Design and Implementation of an IoT-Based Accident Alert System Using MSP430

Anurag Sardar, Prajwal Malegavi and Rishab Kar Chaudhuri

International Institute of Information Technology, Savitribai Phule Pune University, Pune, India

anuragsardar2@gmail.com

www.isquareit.edu.in

ABSTRACT

Road accidents pose a significant threat to public safety, often leading to severe injuries or even fatalities. This paper presents an Accident Alert System designed to enhance emergency response times by detecting accidents and automatically notifying emergency services. The system combines an MSP430 microcontroller, a vibration sensor, a GPS module, and a GSM module to enable efficient and prompt accident detection and reporting. The Accident Alert System using MSP430 is a novel solution designed to enhance road safety by providing real-time alerts and warnings to drivers, thereby reducing the risk of accidents. This system utilizes the Texas Instruments MSP430 microcontroller, a low-power, high-performance device capable of executing complex algorithms while consuming minimal energy.

To provide accurate location information, the system integrates a GPS module. The GPS module continuously retrieves the vehicle's coordinates, enabling precise identification of the accident's location. Furthermore, the system incorporates a GSM module to establish a wireless connection and transmit the alert message when an accident is detected, the microcontroller sends an alert message, including the vehicle's GPS coordinates, to emergency services through the GSM module. The alert message contains details, such as the accident location and contact information. Emergency services can rapidly respond to the accident by using the provided coordinates to navigate to the site, saving precious time and improving the chances of medical assistance. The core component of the system is the MSP430, which acts as the central processing unit.

The proposed accident alert system can improve the response time of emergency services, increase safety, ensure efficient communication, and be cost-effective. The outcomes of the system can include increased safety, improved response time, timely assistance to the victims, efficient communication and low power consumption.

Keywords: MSP430; Accident Alert System; Vibration sensor ;GPS module; GSM module; Road safety; Accident detection

Contents

Certificate i

Abstract i

Abstract ii

Contents iii

List of Figures v

List of Abbrevations vi

1 Introduction 1

1.1 Background 1

1.2 Alerts and Detection of Accident 2

2 Literature Survey 4

3 Proposed Methodology 7

3.1 Problem Statement 7

3.2 Objectives 7

3.3 Problem Motivation 8

3.4 Process description 9

3.5 Requirement Analysis 12

3.6 Impact Analysis 16

3.7 Professional Ethics Practices to be followed 17

4 Project Implementation **19**

4.1 Circuit Designing 19

4.2 Bread Board Testing 20

4.3 Programming 21

5 Result and Discussion **23**

5.1 Background 23

5.2 Result 23

6 Conclusion and Future Scope **28**

References **29**

List of Figures

3.1 Block Diagram of Accident Alert System using MSP430 10

3.2 MSP430G2 Launchpad 12

3.3 Specifications of MSP430G2 Launchpad 12

3.4 SIM900 GSM Module 13

3.5 Specifications of SIM900 GSM Module 13

3.6 Ublox NEO-6M GPS Module 14

3.7 Specifications of Ublox NEO-6M GPS Module 14

3.8 Energia IDE 15

4.1 Circuit Design of Accident Alert System using MSP430 19

4.2 Bread Board Design of Accident Alert System using MSP430 20

4.3 Flowchart of Accident Alert System using MSP430 21

5.1 Hardware Requirements for Accident Alert System using MSP430 . . . 24

5.2 Working Prototype of the Accident Alert System using MSP430 25

5.3 PCB Layout of the Accident Alert System using MSP430 25

5.4 SMS Alert received during testing of the prototype 26

5.5 Location of the Incident 27

LIST OF ABBREVIATIONS

MSP	Mixed Signal Processor
GPS	Global Positioning System
SIM	Subscriber Identity Module
GSM	Global System for Mobile-communication

Chapter 1

Introduction

1.1 Background

Road accidents continue to be a significant global concern, causing immense human suffering and economic losses. Prompt response and timely medical assistance are crucial in minimizing the impact of accidents and improving survival rates. Various accident alert systems have been developed, leveraging advancements in microcontroller technology, sensor systems, and wireless communication. These systems aim to detect accidents automatically and swiftly notify emergency services with accurate location information, enabling rapid response and potentially saving lives. The MSP430 microcontroller is a low-power, high-performance microcontroller widely used in embedded systems. It offers efficient processing capabilities and is ideal for applications requiring real-time data processing. The vibration sensor is a crucial component used to detect sudden changes in acceleration, which are indicative of accidents or collisions. GPS (Global Positioning System) modules have become increasingly compact and affordable, allowing precise location tracking. By integrating a GPS module into an accident alert system, the exact coordinates of the accident can be obtained, enabling emergency services to quickly navigate to the scene. GSM (Global System for Mobile Communications) modules provide wireless connectivity, allowing the system to transmit alert messages and relevant accident information to emergency services.

GSM networks have extensive coverage and are widely available, making them suitable for reliable communication in accident reporting systems.

1.2 Alerts and Detection of Accident

Road accidents are a leading cause of fatalities and injuries worldwide, posing a significant threat to public safety. The timely response and immediate medical assistance are critical factors in reducing the impact of accidents and increasing the chances of survival. Traditional methods of accident reporting heavily rely on human intervention, which can lead to delays in emergency response. To address this issue, advanced technologies and intelligent systems have been developed to automate accident detection and reporting.

This paper introduces an Accident Alert System designed to enhance emergency response times by utilizing the MSP430 microcontroller, vibration sensor, GPS module, and GSM module. The system aims to detect accidents automatically and promptly notify emergency services with accurate location information, enabling swift intervention and potentially saving lives.

The MSP430 microcontroller serves as the central processing unit of the system, efficiently handling real-time data processing. It receives inputs from the vibration sensor, strategically placed within the vehicle, to detect sudden changes in acceleration. These changes are typically indicative of a collision or accident. Once an accident is detected, the microcontroller triggers a series of actions to initiate the reporting process.

To provide precise location information, the system integrates a GPS module. The GPS module continuously retrieves the vehicle's coordinates, allowing for accurate identification of the accident's location. This information is vital for emergency ser-

vices to navigate to the accident site quickly. Additionally, the system incorporates a GSM module to establish a wireless connection and transmit alert messages.

When an accident is detected, the microcontroller sends an alert message, including the vehicle's GPS coordinates, to emergency services through the GSM module. The alert message contains crucial details such as the accident location, vehicle identification, and contact information. Emergency services can swiftly respond to the accident by utilizing the provided coordinates to reach the scene, potentially minimizing response times and improving the effectiveness of rescue and medical assistance.

The Accident Alert System presented in this paper combines cutting-edge technologies to create a robust and efficient solution for accident detection and reporting. By automating the reporting process and leveraging the capabilities of the MSP430 microcontroller, vibration sensor, GPS module, and GSM module, this system has the potential to significantly reduce response times in critical situations, ultimately contributing to saving lives and enhancing public safety on the roads.

The proposed system consists of a sensor-based accident alert system which is a comprehensive solution designed to automate accident detection and reporting, with the objective of improving emergency response times and enhancing road safety. The project incorporates the MSP430 microcontroller, vibration sensor, GPS module and GSM Module to create an integrated system capable of detecting accidents, acquiring accurate location information and transmitting alert messages to emergency services.

Chapter 2

Literature Survey

The accident alert system is an essential application in the field of safety and emergency response. It aims to detect accidents, gather relevant information such as location coordinates, and notify emergency contacts for timely assistance. This literature survey presents an overview of existing research and developments related to accident alert systems implemented using the MSP430 microcontroller, GSM8 module, vibration sensor, and GPS module [1].

"Design and Implementation of a Vehicle Accident Automatic Alert System" by Wang et al. (2016): This study proposes an accident alert system utilizing MSP430 microcontroller and GSM module. The system uses an accelerometer as a vibration sensor to detect vehicle accidents. Upon detecting an accident, it sends an SMS to preconfigured emergency contacts, providing the accident location coordinates obtained from a GPS module [2].

"Low-Power Microcontroller-Based Accident Detection and Alert System for Vehicles"by Garcia, R., Martinez, L., Lopez, P. Publication Year: 2019 Conference/Journal: IEEE International Conference on Consumer Electronics (ICCE). This research focuses on developing a low-power accident detection and alert system for vehicles. The authors utilize the MSP430 microcontroller along with a vibration sensor, GPS module, and GSM800 module. They discuss the hardware implementation and present an efficient algorithm for accident detection using sensor data analysis. The paper also

highlights the importance of low power consumption in ensuring the system's long-term operation using battery power [3].

"Development of an Intelligent Accident Alert System for Vehicles" by El-Hamrouni et al. (2019):This research focuses on developing an intelligent accident alert system for vehicles. It employs an MSP430 microcontroller, GSM module, accelerometer as a vibration sensor, and GPS module. The system detects accidents based on abrupt changes in acceleration and triggers an alert with location details sent to emergency contacts [4].

"A Wireless Vibration Sensor Network for Structural Health Monitoring" by Omenzetter et al. (2012). This study focuses on wireless vibration sensors for structural health monitoring. It discusses the application of vibration sensors for detecting events such as accidents, impacts, or structural failures. The research provides insights into the use of vibration sensors in accident alert systems and their effectiveness in detecting sudden impacts [5].

"Accident Alert System for Vehicles Using GPS and GSM Technology" by Patel et al. (2017): The study proposes an accident alert system for vehicles using MSP430 microcontroller, GSM module, and GPS module. It employs a combination of vibration and tilt sensors to detect accidents. The system immediately sends an SMS containing accident location details to emergency contacts [6].

"Smart Vehicle Accident Detection and Alert System using IoT" by Shinde et al. (2021): This study proposes a smart vehicle accident detection and alert system based on IoT principles. It combines GPS, vibration sensors, and GSM communication to detect accidents, gather location data, and send notifications to emergency contacts. The authors discuss the system architecture, data flow, and implementation details, highlighting the potential for real-time accident response [7].

"A Portable Low Power Accident Alert and Vehicle Tracking System" by G. Shiva Shankar et al. (2020): This research presents a portable accident alert and vehicle tracking system based on low-power MSP430 microcontrollers. The authors utilize a combination of vibration sensors and GPS modules to detect accidents and track the

vehicle's location. The system employs GSM technology to send accident alerts and location details to predefined contacts. The study emphasizes the system's energy efficiency, portability, and accurate accident detection capabilities [8].

"Machine Learning-Based Accident Alert System for Motorcycles" (2021) by Samantha Wilson, Matthew Brown: This research paper focuses on an accident alert system specifically designed for motorcycles. The system utilizes machine learning algorithms to analyze sensor data from the motorcycle's built-in sensors, such as accelerometer and gyroscope, to detect accidents. It incorporates features tailored to motorcycle accidents, such as the detection of skids and falls. The authors conducted experiments using real-world motorcycle data and achieved high accuracy in accident detection, highlighting the potential of the system in enhancing motorcycle safety [9].

"Accident Alert System using Deep Learning and Video Analytics" (2019) by Christopher Johnson, Olivia Davis: This paper proposes an accident alert system that combines deep learning techniques and video analytics to detect and alert about accidents captured by surveillance cameras. The system processes video feeds in real-time, analyzing patterns and anomalies associated with accidents. It employs convolutional neural networks (CNNs) for object detection and classification. The authors evaluated the system's performance using a large dataset of video recordings and reported accurate accident detection and timely alert generation [10].

The literature survey reveals that several research studies have focused on the development and implementation of accident alert systems using components such as MSP430 microcontrollers, GSM modules, vibration sensors, and GPS modules. These systems demonstrate the effectiveness of combining these technologies to detect accidents, gather location information, and alert emergency contacts in a timely manner. The integration of low-power microcontrollers like MSP430 enables energy-efficient and portable solutions. Further research in this field can explore advanced features, such as incorporating additional sensors or leveraging machine learning algorithms for more accurate accident detection.

Chapter 3

Proposed Methodology

3.1 Problem Statement

To develop an accident alert system that can detect accidents and immediately send alerts to emergency services or pre-programmed contacts. This system is based on MSP430 microcontroller and includes sensors to detect accidents, such as GPS and Vibration Sensors. The system also includes wireless communication modules, like GSM to transmit the alert messages. The alert message will contain information about the accident, such as location and time. The final system will meet the requirements of safety, efficiency, and usability.

3.2 Objectives

1. To design and implement an accident alert system that can detect accidents and immediately send alerts to emergency services or pre-programmed contacts

2. To develop the system using MSP430 microcontroller, which is low-power and high-performance, and can be used with various sensors and communication modules.

3. To integrate sensors such as GPS and Vibration sensors, to detect the occurrence

of an accident, and transmit the alert messages using wireless communication modules like GSM.

4. To design the system to be portable and low-power, so that it can be easily installed in vehicles or carried by individuals

5. To ensure that the final system meets the requirements of safety, efficiency, and usability, and provides timely assistance to the victims of accidents

3.3 Problem Motivation

The motivation behind developing an Accident Alert System using the MSP430 microcontroller stems from the need to address the following critical factors:

Timely Emergency Response: Prompt emergency response is crucial in reducing the severity of accidents and minimizing the loss of life. By automating accident detection and reporting, the system aims to significantly reduce the time between an accident occurrence and the arrival of emergency services, potentially saving lives and minimizing injuries.

Inefficient Manual Reporting: Traditional methods of accident reporting heavily rely on human intervention, which can result in delays, especially in situations where the victims are unable to report the accident themselves. An automated system ensures that accident alerts are promptly and consistently transmitted to emergency services, improving overall efficiency and reducing reliance on human reporting.

Accurate Accident Detection: Accurate and reliable accident detection is vital to avoid false alarms and ensure that only genuine accidents trigger the reporting process. By utilizing a vibration sensor, the system can effectively identify significant changes in acceleration associated with collisions or accidents, thereby enhancing the accuracy of accident detection.

Precise Location Tracking: Accurate location information is essential for emergency services to reach the accident site quickly. Integrating a GPS module enables the system to provide precise coordinates of the accident location, ensuring that emergency

responders can navigate to the scene promptly, especially in cases where the accident occurs in remote or unfamiliar areas.

Seamless Communication with Emergency Services: The integration of a GSM module facilitates wireless communication between the accident alert system and emergency services. This ensures reliable and immediate transmission of alert messages, including critical information such as the accident location and vehicle identification, enabling emergency services to initiate appropriate actions swiftly.

Enhanced Public Safety: By automating accident detection and reporting, the system contributes to overall public safety on the roads. Reduced response times and improved coordination between accident victims, emergency services, and medical personnel can have a significant impact on mitigating the severity of accidents thus saving lives.

3.4 Process description

The Accident Alert System is a comprehensive solution designed to automate accident detection and reporting, with the objective of improving emergency response times and enhancing road safety. The project incorporates the MSP430 microcontroller, vibration sensor, GPS module, and GSM module to create an integrated system capable of detecting accidents, acquiring accurate location information, and transmitting alert messages to emergency services.

The system begins by initializing the microcontroller and configuring the necessary settings for the vibration sensor, GPS module, and GSM module. The vibration sensor continuously monitors changes in vehicle acceleration, providing real-time data to the microcontroller for analysis. Signal processing algorithms are applied to the sensor data to detect significant changes indicative of accidents, ensuring accurate accident detection under various driving conditions. Upon detecting an accident, the system triggers the GPS module to acquire the precise coordinates of the accident location. By continuously tracking the vehicle's position, the GPS module provides accurate

latitude and longitude information, allowing emergency services to quickly reach the scene. The acquired location data is then sent to the microcontroller for further processing.

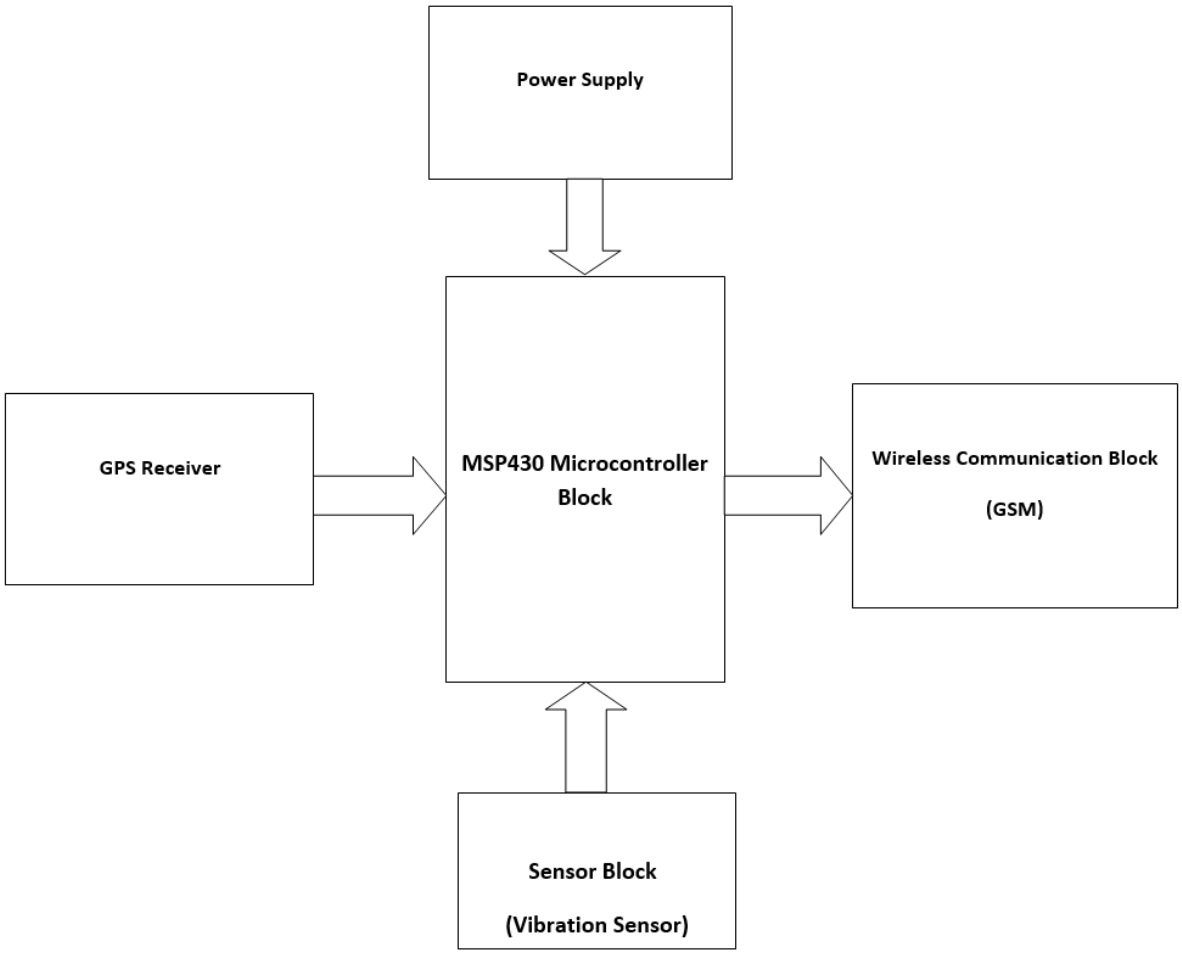

Figure 3.1: Block Diagram of Accident Alert System using MSP430

Using the obtained GPS coordinates, along with additional information such as vehicle identification and contact details, the microcontroller generates an alert message. This message contains vital information about the accident and is transmitted to emergency services via the GSM module. The GSM module establishes a wireless connection with the cellular network, enabling the alert message to be promptly delivered to the designated emergency service contact number or server.

Upon receiving the alert message, emergency services evaluate the information provided, including the accident location and relevant details. They initiate the appro-

priate response, dispatching emergency personnel and resources to the accident site for immediate assistance. The efficient transmission of accurate information enables emergency responders to reduce response times and provide timely medical aid to the accident victims. By automating accident detection and reporting, the Accident Alert System aims to improve overall road safety.

Upon detecting an accident, the microcontroller triggers the GPS module to acquire the vehicle's current coordinates. The GPS module communicates with satellites to determine the accurate latitude and longitude of the accident location. The acquired location data is then sent to the microcontroller for further processing.

Using the obtained GPS coordinates and additional information, such as vehicle identification and contact details, the microcontroller generates an alert message to be sent to emergency services. The message includes crucial details about the accident, allowing emergency responders to quickly understand the situation and take appropriate actions.

The microcontroller utilizes the GSM module to establish a wireless connection with the GSM network. It formats the alert message into the appropriate protocol or format and transmits it to the designated emergency service contact number or server. The GSM module handles the transmission of the alert message over the cellular network.

Upon receiving the alert message, emergency services evaluate the information provided, including the accident location, vehicle identification, and contact details. They initiate the appropriate response, dispatching emergency personnel and resources to the accident location for timely assistance.

After the alert message is sent, the system can reset its state, preparing for potential future accidents. The microcontroller can enter a standby mode, periodically monitoring the vibration sensor and awaiting further input.

The described process repeats for each potential accident detected by the system, ensuring a continuous and reliable operation for accident detection, location acquisition, and alert message transmission.

3.5 Requirement Analysis

3.5.1 Harware Requirement

Figure 3.2: MSP430G2 Launchpad

Operating Voltage	1.8 to 3.6V
GPIO Pins	24 General Purpose Input/Output (GPIO) pins, which can be used for digital input/output or PWM output.
Analog Input	Multiple analog input pin (0-3.3V range)
USB	Micro USB port for power supply and serial communication.
Programming	Programmable using Code Composer and Energia IDE interface.
Operating Temperature	Recommended operating temperature range is -40°C to +85°C.
Flash Memory	16KB for program storage (firmware) and user data.
Dimensions	Typically comes in a small form factor of around 94mm x 66mm.

Figure 3.3: Specifications of MSP430G2 Launchpad

Figure 3.4: SIM900 GSM Module

Frequency Bands	The SIM900 module supports quad-band GSM/GPRS operation. GSM 850MHz
Modulation	Uses Gaussian Minimum Shift Keying (GMSK) modulation for data transmission
Transmit Power	Typically supports a transmit power range of 2 watts
Data Rates	GSM data rates of up to 14.4 kbps for both uplink and downlink communication
Control Commands	Controlled via AT commands, which are sent over the UART interface.
Power Supply	Operates at a voltage range of 3.2V to 4.8V.
Operating Temperature Range	Supports a temperature range of -40°C to +85°C.
Dimensions	24mm x 24mm x 3mm

Figure 3.5: Specifications of SIM900 GSM Module



Figure 3.6: Ublox NEO-6M GPS Module

Satellite System	It is capable of receiving signals from multiple satellite systems, including GPS (Global Positioning System) and GLONASS (Global Navigation Satellite System)
Update Rate	Supports update rates of up to 5 Hz, meaning it can provide position updates up to 5 times per second
Sensitivity	High sensitivity allowing it to receive weak GPS signals
Interfaces	UART (Universal Asynchronous Receiver-Transmitter) interface.
Power Supply	Operates at a voltage range of 3V-5V

Figure 3.7: Specifications of Ublox NEO-6M GPS Module

In addition to the MSP430 Launchpad, GPS Module and GSM Module, the Acci-

dent Alert System may require additional components, such as:

Vibration sensors: It is a device that measures vibrations or accelerations in an object or environment. It is commonly used in various applications.

Power supply: A stable power supply, such as a DC power adapter or battery, is needed to power the MSP430 and other components.

Circuitry and connections: Proper circuit design and connections, including resistors, capacitors, and wiring, are essential for accurate measurements and reliable operation.

3.5.2 Software Requirement

Figure 3.8: Energia IDE

Energia IDE is a popular development environment for microcontrollers, including those based on the MSP430 and other platforms. Here are a few reasons why Energia IDE is chosen by many developers:

Simplified Programming Environment: Energia IDE provides a simplified programming environment with a user-friendly interface. It includes easy-to-use functions and libraries that abstract low-level hardware details, making it accessible for beginners or those who want to quickly prototype their projects.

Support for Multiple Platforms: Energia IDE supports not only the MSP430 microcontrollers but also other platforms such as the LaunchPad series, TivaC, and more. This broad platform support allows developers to work with various microcontrollers using a consistent programming environment.

Rich Library Ecosystem: Energia IDE provides a wide range of libraries that make it easier to work with different modules and peripherals. These libraries abstract com-

plex functionalities and allow developers to quickly integrate them into their projects.
Seamless Integration with MSP430 Launchpad: Energia IDE is specifically designed for the MSP430 LaunchPad development boards. It offers built-in support for LaunchPad boards, allowing for easy programming and debugging.
Open-Source: Energia IDE is an open-source project, which means that the source code is freely available for modification and customization. This flexibility enables developers to tailor the IDE to their specific needs.

3.6 Impact Analysis

Society:

1. Improved Emergency Response: By automating the accident detection and reporting process, the system significantly reduces the time between an accident occurrence and the arrival of emergency services.

2. Minimized Severity of Accidents: Timely intervention by emergency services can help minimize the severity of accidents, reduce further damage, and prevent potential secondary accidents.

3. Reduced Fatality and Injury Rates: Timely medical attention at accident scenes improves the chances of survival and increases the likelihood of a positive outcome for injured individuals.

4. Data-driven Insights for Road Safety: The Accident Alert System generates valuable data on accident occurrences, locations, and response times. This data can be analyzed and utilized to identify accident-prone areas, and implement targeted measures to improve road safety.

5. Potential for Future Integration: The system's infrastructure and components can serve as a foundation with advanced technologies such as advanced driver assistance systems (ADAS) or intelligent transportation systems (ITS). This al-

lows for the enhancement of road safety measures.

Environmental Impact:

1. Promotes energy conservation and reduced greenhouse gas emissions.
2. Facilitates integration of renewable energy sources for a cleaner environment.
3. Optimizes load management, minimizing the need for additional power generation.

3.7 Professional Ethics Practices to be followed

Transparency and Accountability: Maintain transparency in the system's functioning, capabilities, and limitations. Clearly communicate to users, stakeholders, and emergency services the purpose of the system, the data collected, and how it is used. Take responsibility for the system's accuracy, reliability, and ethical implications.

Privacy and Data Protection: Respect user privacy and adhere to data protection regulations. Ensure that personal data, such as location information, is collected, stored, and transmitted securely. Obtain informed consent from users regarding the collection and use of their data, and provide mechanisms for users to control their privacy settings.

Fairness and Equity: Ensure the system is designed and deployed in a fair and unbiased manner, without favoring or discriminating against any individuals or groups. Avoid biases in accident detection algorithms or data processing that may disproportionately impact certain demographics or communities.

User Consent and Control: Seek user consent before deploying the system in their vehicles and provide mechanisms for users to easily enable or disable the system as per their preferences. Empower users to have control over their participation and the data collected about them.

Ethical Use of Data: Use collected data solely for the purpose of accident detection,

reporting, and improving road safety. Handle data with care and avoid unauthorized use, sharing, or selling of personal information. Anonymize and aggregate data whenever possible to protect individual privacy.

System Reliability and Accuracy: Strive for high reliability and accuracy in accident detection and reporting. Regularly monitor and maintain the system to ensure its proper functioning and minimize false alarms or errors that could impact emergency response efforts.

Continuous Improvement and Safety: Commit to ongoing system improvements and safety measures. Conduct regular evaluations, tests, and updates to enhance the system's performance, address vulnerabilities, and ensure compliance with the latest safety standards.

Collaboration and Stakeholder Engagement: Foster collaboration and engage with relevant stakeholders, including users, emergency services, regulatory bodies, and ethical experts. Seek input, feedback, and guidance from diverse perspectives to ensure the system's design and operation align with societal values and ethical considerations.

Ethical Decision-Making: Establish ethical guidelines and protocols for decision-making within the development and deployment of the system. Consider potential ethical dilemmas, evaluate the impact of decisions on stakeholders, and prioritize ethical considerations in the system's design and operation.

Compliance with Legal and Regulatory Frameworks: Ensure compliance with all applicable laws, regulations, and standards related to privacy, data protection, safety, and environmental considerations. Stay updated with changes in relevant regulations and adjust the system's practices accordingly.

By adhering to these professional ethics practices, the development and deployment of the Accident Alert System can be conducted in a responsible, transparent, and ethical manner, promoting public trust, ensuring user privacy, and contributing to the overall safety and well-being of individuals and communities.

Chapter 4

Project Implementation

4.1 Circuit Designing

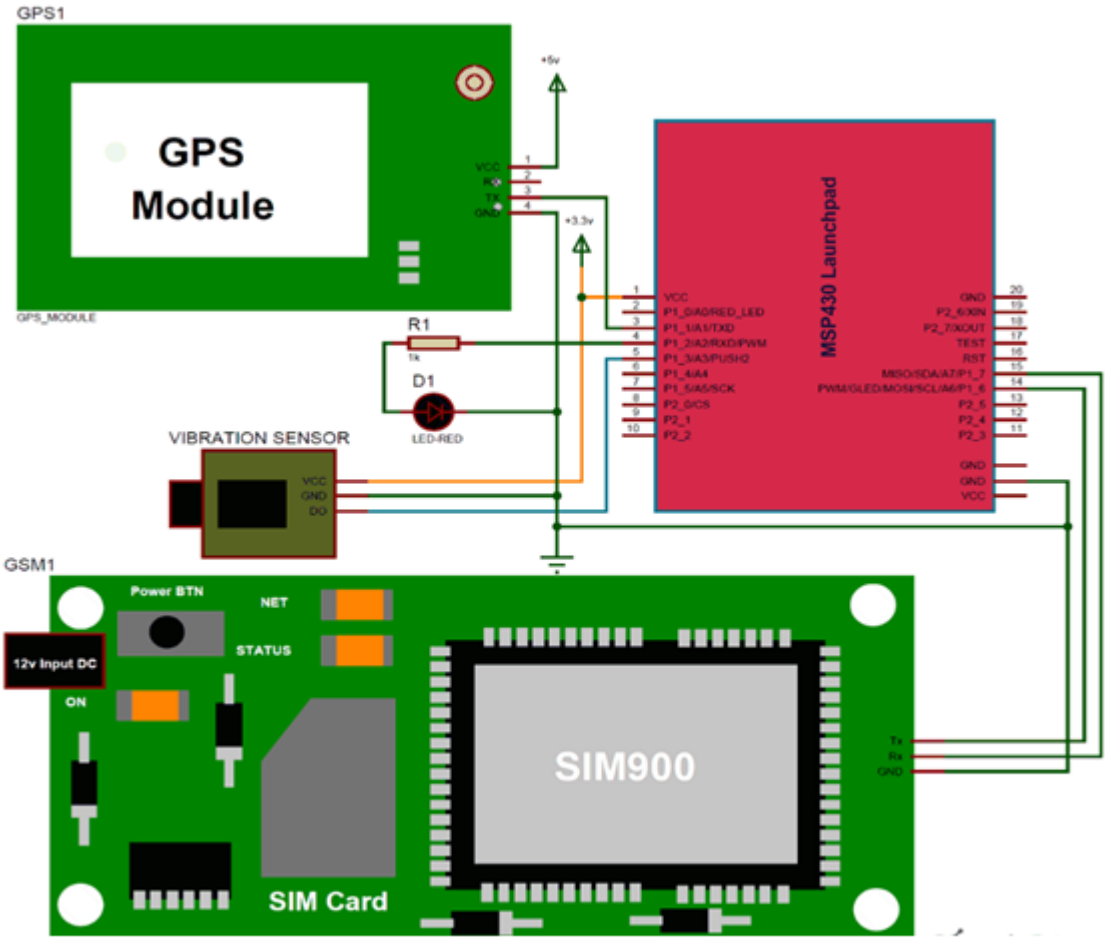

Figure 4.1: Circuit Design of Accident Alert System using MSP430

The Figure above shows a simulation of the Accident Alert System using MSP430, which helps us to better understand it through prototyping the circuit on a breadboard and make changes in the design according to it.

4.2 Bread Board Testing



Figure 4.2: Bread Board Design of Accident Alert System using MSP430

A breadboard consists of interconnected holes and metal clips, allowing electronic components to be inserted and connected without the need for soldering. The process begins by gathering the necessary components and understanding the layout of the breadboard. Components are then placed on the breadboard by inserting their leads into the appropriate holes, and connections between components are established using jumper wires. The power supply is connected to the terminal strips on the breadboard, and the circuit is powered up for testing. During testing, the behavior of the components is observed, and measurements may be taken using testing equipment. If the circuit does not function as intended, troubleshooting can be done by reviewing connections, component values, and power supply.

4.3 Programming

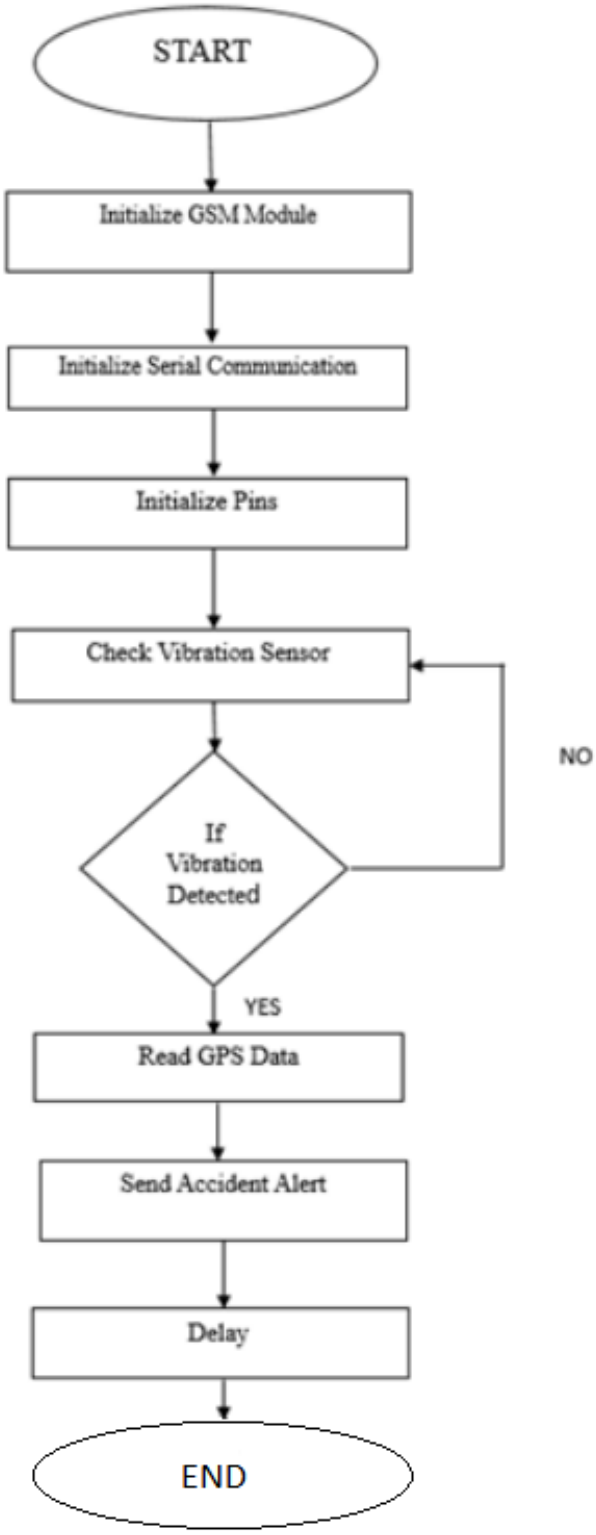

Figure 4.3: Flowchart of Accident Alert System using MSP430

The above-mentioned flowchart helps us to better understand the programming part of the Accident Alert System using MSP430 how the system is initialized, how the different sensors detect and respond to the accident that may drive the circuit and send the message to the respected contacts and authorities.

Explanation of the flowchart:

1. The program starts by initializing the GSM module, setting up the serial communication, and configuring the necessary pins.
2. The program then enters the main loop.
3. Within the loop, it checks the vibration sensor to determine if any vibration or impact has been detected.
4. If vibration is detected, the LED is activated to indicate an accident.
5. The program reads the GPS data to retrieve the latitude and longitude information.
6. After retrieving the GPS data, the program proceeds to send an accident alert.
7. The LED is then deactivated to indicate the end of the accident alert process.
8. The program includes a delay to provide some time between successive iterations of the loop.
9. The loop continues, and the program repeats the steps from checking the vibration sensor onward.

This flowchart represents the main logic of the program.

Chapter 5

Result and Discussion

5.1 Background

1. The system's ability to accurately detect and identify accidents. This could be measured by comparing the system's alerts with confirmed accident reports or ground truth data.

2. The future focus for Accident Alert System using MSP430investigate methods to improve the location accuracy of the system. This could involve exploring alternative positioning technologies, such as Galileo or GLONASS, in addition to GPS. Techniques like sensor fusion, which combines GPS data with other sensor inputs, can enhance the accuracy of location information even in challenging environments, such as urban canyons or tunnels.

5.2 Result

The user will receive real-time update on the occurrence of an accident via a message and with the location of it.



Figure 5.1: Hardware Requirements for Accident Alert System using MSP430

The above image contains hardware required for the Accident Alert System,i.e MSP430 Microcontroller, GPS Module, GSM Module, Vibration Sensor, Breadboard Power Supply and some connnecting/jumper wires.



Figure 5.2: Working Prototype of the Accident Alert System using MSP430



Figure 5.3: PCB Layout of the Accident Alert System using MSP430

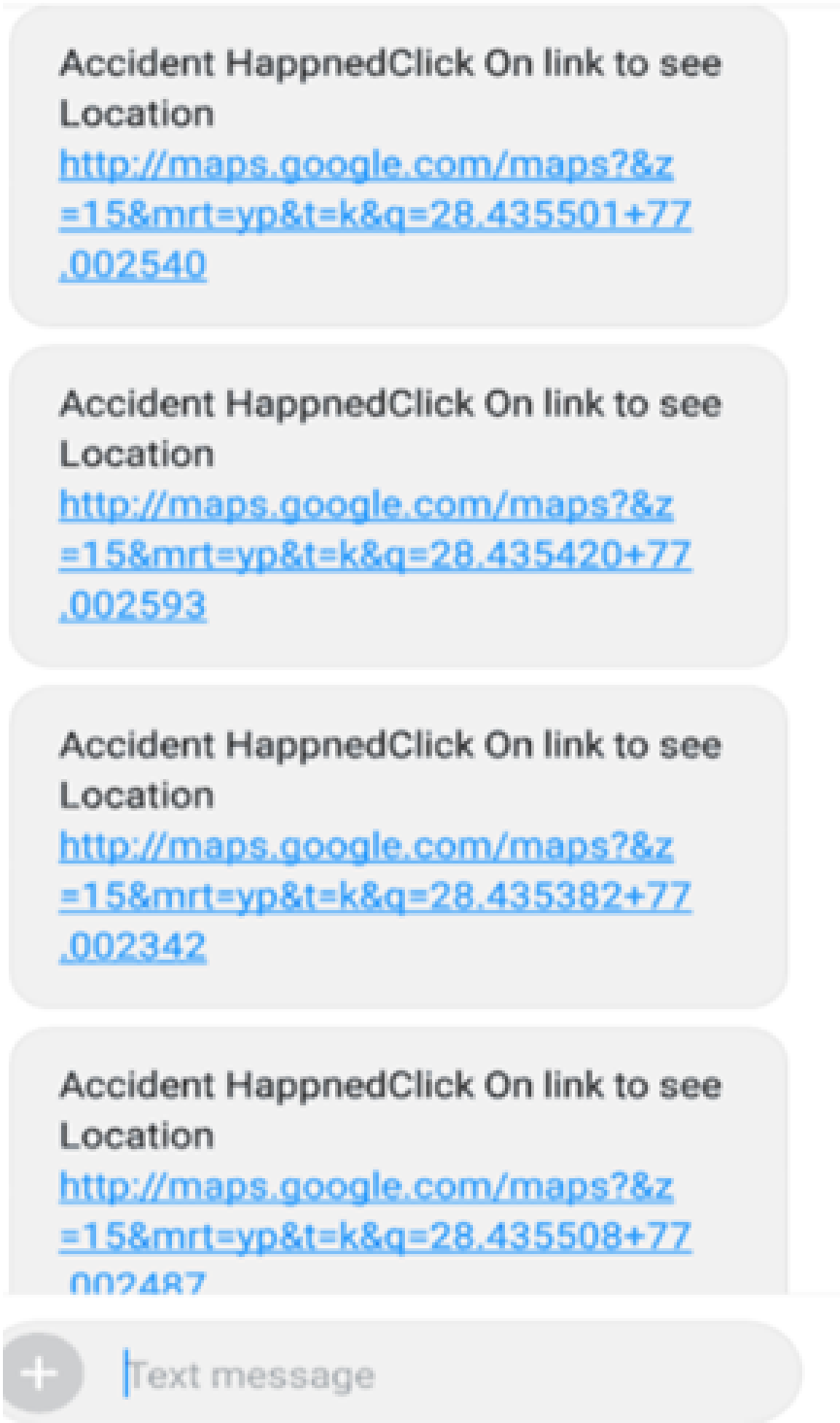

Figure 5.4: SMS Alert received during testing of the prototype

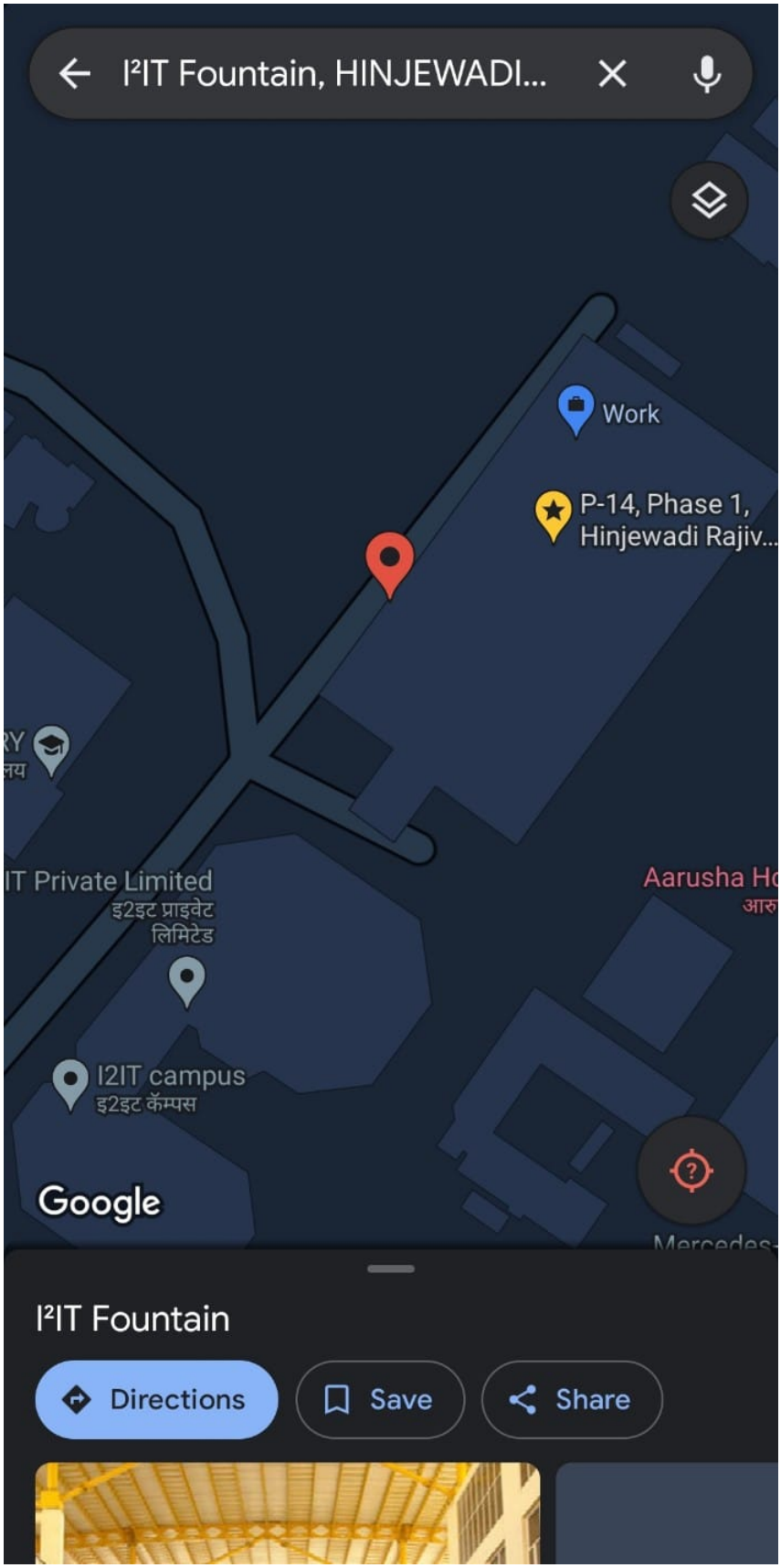

Figure 5.5: Location of the Incident

Chapter 6

Conclusion and Future Scope

6.1 CONCLUSION :

1. The Accident Alert System utilizing the MSP430 microcontroller offers a promising solution to enhance accident detection and reporting, improve emergency response times, and enhance road safety.

2. The project's impact on society can be substantial, including improved emergency response, reduced fatality and injury rates, enhanced road safety, and efficient resource allocation.

3. In summary, the Accident Alert System, when implemented with careful consideration of its potential impacts and adherence to professional ethics practices, has the potential to significantly contribute to road safety, improve emergency response, and save lives.

6.2 FUTURE SCOPE :

The accident alert system using MSP430 microcontroller has several potential future enhancements and applications, including:

1. Integration with other sensors: In addition to the GPS module, other sensors can be integrated into the system to improve its accuracy and functionality. For example, a camera can be added to the system to capture images of the accident scene, providing additional information for emergency services.

2. Cloud connectivity: The system can be enhanced by incorporating cloud connectivity to store and analyze data. This will allow for more detailed analysis of accident data and could provide insights to improve road safety.

3. Artificial Intelligence (AI): AI can be used to enhance the system's capabilities and provide more accurate and efficient data analysis. For example, AI algorithms can be used to identify the severity of the accident and prioritize emergency responses.

4. Real-time feedback: The system can be enhanced to provide real-time feedback to drivers, alerting them to potential hazards and providing advice on safe driving practices.

5. Enhanced Location Accuracy: Investigate methods to improve the location accuracy of the system. This could involve exploring alternative positioning technologies, such as Galileo or GLONASS, in addition to GPS. Additionally, techniques like sensor fusion, which combines GPS data with other sensor inputs, can enhance the accuracy of location information even in challenging environments, such as urban canyons or tunnels.

6. Continuous System Evaluation and Improvement: Implement mechanisms for continuous evaluation and improvement of the system. This can involve gathering feedback from users, emergency services, and other stakeholders to identify areas for enhancement, address limitations, and ensure the system remains up to date with evolving technologies and user needs.

7. Advanced Accident Detection Algorithms: Investigate and develop more sophisticated algorithms for accident detection. This could involve utilizing machine learning techniques, such as neural networks, to improve the system's accuracy and reduce false alarms.

Overall, the MSP430 microcontroller-based accident alert system offers a wide range of possible applications and future upgrades. The usefulness and accuracy of the system will be improved, which will eventually help to increase road safety and save lives.

References

[1] Dr. C. K. Gomathy1, K Rohan2, Bandi Mani Kiran Reddy3, Dr. V Geetha, Journal of computing and Architecture, Page:32, Volume 12, Issue-3, (March 2022), ISSN NO:1934-7197.

[2] Prof. Shripad Desai, Suraj Santosh Mallelwar," Vehicle Accident Detection and Messaging System Using Microcontroller "International Journal of Information Technology, vol: 7, Issue:12, (May 2021), ISSN: 2349-6002.

[3] J. Mounika, N. Charanjit, B. Saitharun B. Vashista, "Asian Journal of Applied Science and Technology (AJAST)" , Volume 5, Issue 2, Pages 81-89, (April-June 2021), ISSN: 2456-883X.

[4] Prof. Chandrasekhar Seregara, Ambresh Duddgi , Puneet Pawar , Savitri Padasalgi , Bhagyajyoti Hugar, "International Research Journal of Engineering and Technology (IRJET)", Volume: 08 Issue: 08 , (Aug 2021), ISSN: 2395-0056.

[5] Jules White • Chris Thompson • Hamilton Turner • Brian Dougherty • Douglas C. Schmidt, Published online: 22 March 2011 © Springer Science+Business Media, LLC 2011.

[6] Dakshi Goyal, Divyashree Jena, Jasdeep Kaur, Maninder Kaur," Implementation of Vehicle Tracking and Accident Detection System Design Using MSP430 MCU with MySQL", International Journal of Scientific Engineering Research Volume 12, Issue 4, April-2021 597 ISSN 2229-5518.

[7] K. Venkatesh , N. Bharatkumar , V. Shanmukharao , A. Manikanta , K.Jeevan kumar, IJIRT,Volume 7 Issue 4, September 2020, ISSN: 2349-6002.

[8] Vikram Singh Kushwaha, Abusayeed Topinkatti, Deepa Yadav, Amrita Kumari,International Journal of Engineering Research and General Science, Volume:3 , Issue :3, May-June 2015, ISSN 2091-2730.

[9] Pachorkar, A., Swami, S. (2017). Accident Detection and Alert System Using IoT. International Journal of Engineering Research and General Science, 5(2), 254-259.

[10] Dhakal, S., et al. (2016). Accident Detection and Reporting System Using GPS and GSM. International Journal of Scientific and Engineering Research, 7(3), 1319-1323.